[State Emblem] Kyrgyz Republic

STATE ACT

on the right of perpetual (indefinite) use of a land plot

Series B No. 062084

This Act hereby certifies that the land plot(s) indicated in the plan, with an area of *1.0 ha*

of which

on the basis of *Acceptance and Transfer Act No. 1668-p dated December 31, 2024*

(name, number and date of the title document)

registered on "*14*" *January* 20*25*under No. 2025 3076 in the Unified State Registry of Rights to Immovable Property at the local registration authority Bishkek branch of the Land Agency

of the district (city) are granted

(name of land user)

Institution "Ministry of Digital Development of the Kyrgyz Republic"

for perpetual (indefinite) use for (under)

for the design and construction of the "Republican Administrative, Cultural and Business Center" complex

(intended purpose and category)

Plot numbers in the plan	Identification number	Location (address)
	1-04-17-0015-0585	***Ch. Aitmatov Avenue, 104 v***

Description of Boundaries:

from A to B	*Public Land*
from B to C	*plot*
from C to D	*plot*
from D to A	*Public Land*

Officer of the local registration authority

Nasirov T. ***[Signature]***

(full name, signature)

Series B No. 062084

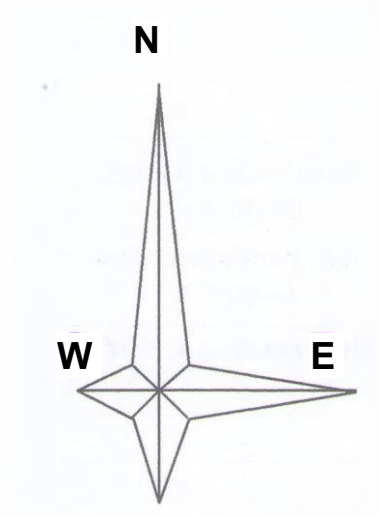

PLAN
of land plot

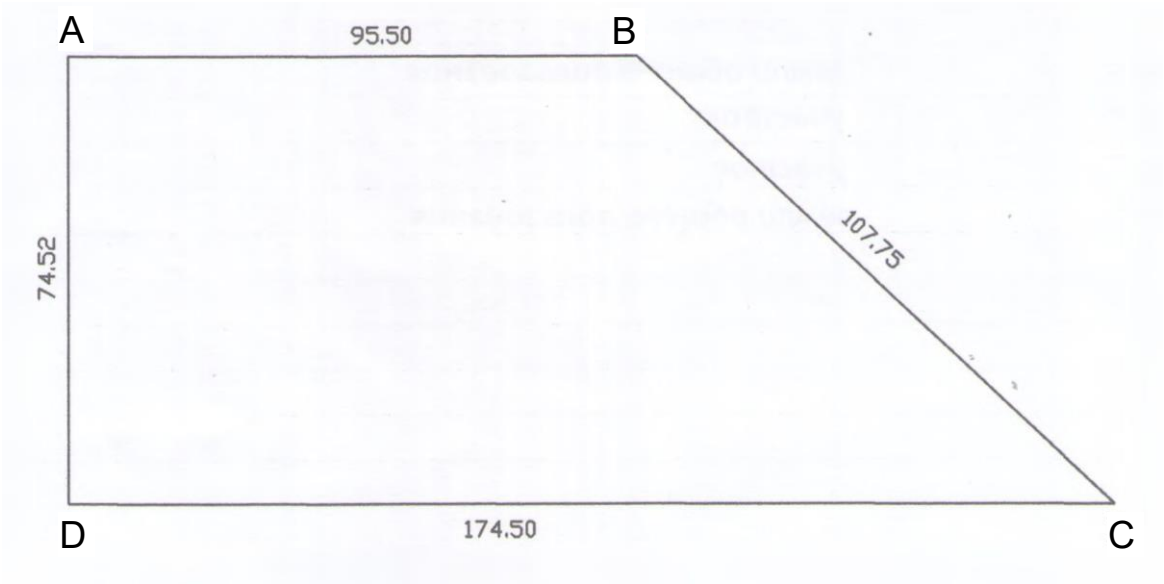

Scale 1: *Not to scale*

Land plot reference
(situation plan)

Officer of the local registration authority

Nasirov T. ***[Signature]***

(full name, signature)

Plot identification number
1-04-17-0015-0585

Restriction of ownership rights to the land plot

No.	Type of restriction	Document on restriction	Date of registration of right restriction	Full name and signature of registrar	Document on termination of restriction	Date of termination of restriction	Full name and signature of registrar

This state certificate is prepared in two copies: the first copy is held by the land plot owner, the second is stored at the local registration authority _____
Bishkek Branch of the Land Agency of the district (city).

Head of Local Registration Authority *[Signature]* **M.T. Ismailova**
(full name, signature)

[Seal] * BISHKEK BRANCH OF THE STATE AGENCY FOR LAND RESOURCES, CADASTRE, GEODESY AND CARTOGRAPHY UNDER THE CABINET OF MINISTERS OF THE KYRGYZ REPUBLIC
TIN: 41510201910119

Date of preparation "14" 01 20__

Bishkek Branch of the State Agency for Land Resources, Cadastre, Geodesy and Cartography under the Cabinet of Ministers of the Kyrgyz Republic

ACT of establishing land plot boundaries on the ground

"23" 06 2025 **Bishkek city**

We, the undersigned:

1. Specialist of the Bishkek branch of the Land Agency:
Nasirov T.
(Full name)

2. Applicant: ***Ministry of Digital Development of the Kyrgyz Republic***
(Full name)

Based on application: ***No. 101-2025-128717*** ***03.06.2025***
(number) (date)

Based on document:
(number, date)

Acceptance-transfer act No. 1668-p dated 12/31/2024, state certificate for the right to use land plot without payment (payment not specified) series "B" No. 062084

Address: ***Ch. Aitmatov Avenue, 104 v***

have compiled this act on establishing the boundary of the land plot in kind.

Applicant: *[illegible] [Signature]*
(full name, signature)

[Seal] STATE AGENCY FOR LAND RESOURCES, CADASTRE, GEODESY AND CARTOGRAPHY UNDER THE CABINET OF MINISTERS OF THE KYRGYZ REPUBLIC
BISHKEK BRANCH
[ILLEGIBLE]
TIN: 41510201910119

Specialist(s): ***Nasirov T.M.*** *[Signature]*
(full name, signature)

Deputy Head of Department: ***Sultangaziev E.T.*** *[Signature]*
(full name, signature)

Head of Department: ***Aidarbekov T.S.*** *[Signature]*
(full name, signature)

Schematic plan of the land plot on the back page

Schematic plan of land plot Scale: 1:500

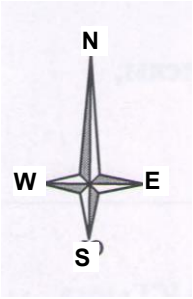

Boundaries and area of the land plot
S= 1.0 ha

Diagram of the land plot on the next page

at point X=3305914.3401 Y=4757183.4308 Z= 0.0000
at point X=3306009.7933 Y=4757180.8340 Z= 0.0000
at point X=3306086.7610 Y=4757105.4447 Z= 0.0000
at point X=3305912.3162 Y=4757108.9507 Z= 0.0000

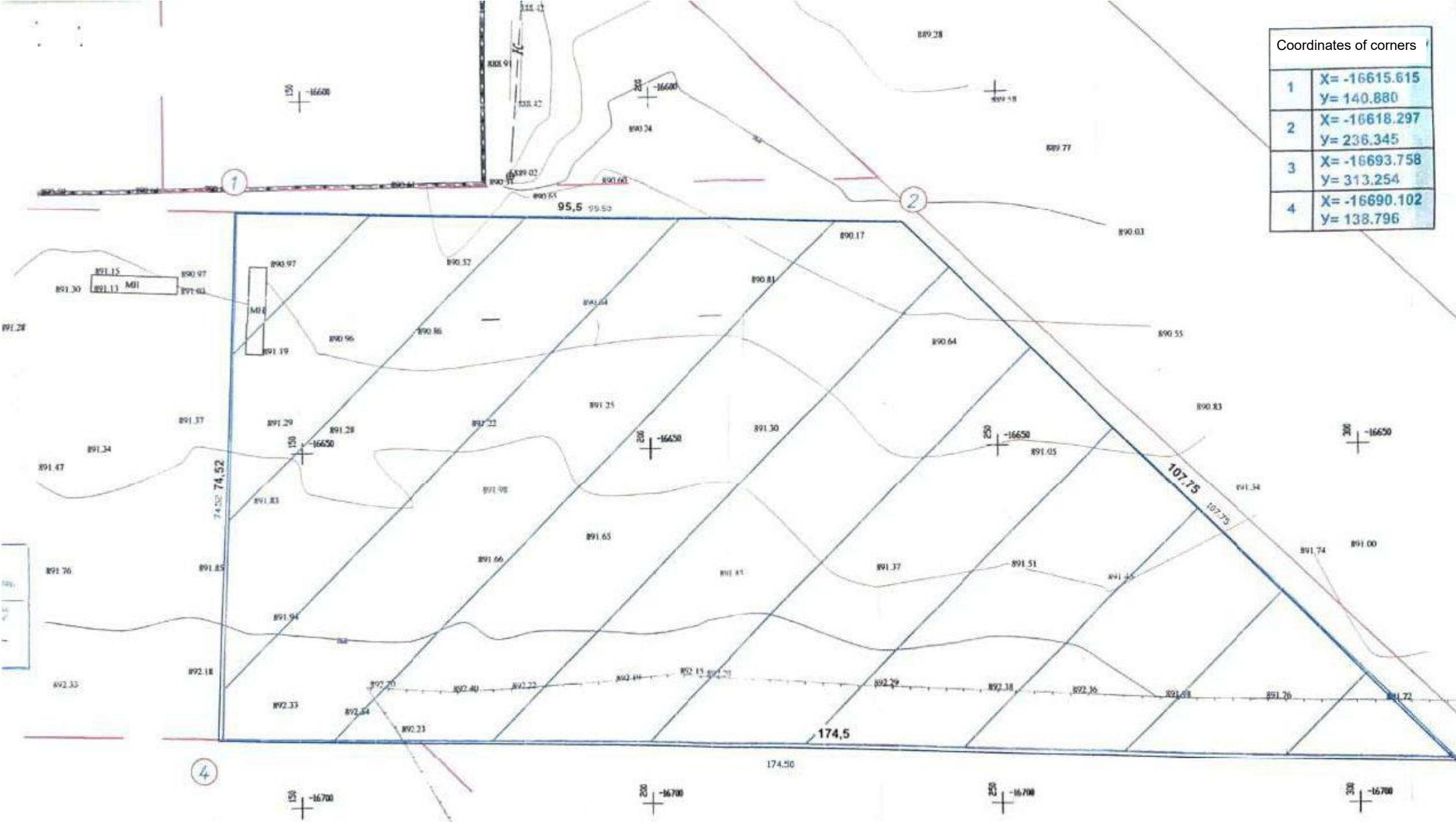

Coordinates of corners	
1	X= -16615.615 Y= 140.880
2	X= -16618.297 Y= 236.345
3	X= -16693.758 Y= 313.254
4	X= -16690.102 Y= 138.796

Construction site